Adaptive Per-Distance Sampling for Efficient Multi-Scale Network Centrality Analysis

Author Name
Affiliation
email@example.com

February 7, 2026

Abstract

Computing localised network centrality across multiple distance thresholds is a core task in urban morphology, but for large sparse street graphs it is often effectively quadratic (or worse) in network size, making large-scale and multi-scale analysis prohibitive. Sampling-based approximation can reduce this cost, yet most existing sample-complexity results target global centrality on general graphs and do not directly answer how many samples suffice for distance-bounded analysis on real street networks. We develop two complementary approaches. First, using a variance-scaling argument for source-sampled (summation-based) centrality grounded in the Hájek estimator, we hypothesise that the effective sample size required for rank stability scales as $\sqrt{r}$, where r is the mean number of reachable nodes within the analysis distance; we then fit and validate a two-parameter adaptive model, $n_{\text{eff}} = \max(k \cdot \sqrt{r},\ n_{\min})$, on synthetic networks spanning three topologies ($k = 9.91$, $n_{\min} = 350$). Second, we adapt the Eppstein–Wang source-sampling bound to the localised setting by replacing the global node count with distance-bounded reach, and empirically evaluate the resulting Hoeffding-style error bound on the same synthetic suite: the bound holds in over 93% of configurations, with most violations confined to a low-reach regime where concentration guarantees are weak and sampling offers limited computational benefit. For high reach, the two perspectives become numerically consistent in the sense that the rank model's recommended sample sizes correspond to an implied normalised additive error on the order of $\varepsilon \approx 0.1$ under the localised Eppstein–Wang analysis. We validate the rank model on the Greater London (294,000-node) and Greater Madrid street networks at distances from 1–20 km, achieving Spearman $\rho > 0.98$ for both harmonic closeness and betweenness centrality with speedups of 5.3–21.0×. The approach is implemented in the open-source `cityseer` Python package.

Keywords: network centrality, sampling, urban morphology, betweenness, harmonic closeness, computational efficiency

1 Introduction

Urban morphological analysis makes use of localised network centrality (typically variants of closeness or betweenness computed within distance thresholds) to reveal patterns of accessibility and flow in street networks. Because these metrics are typically evaluated at multiple scales, from pedestrian (∼500 m) to metropolitan (∼20 km), the computational cost compounds: each distance threshold requires a shortest-path computation from every node, and the reachable subgraph grows with the threshold. For a network of 294,000 nodes, a single multi-scale centrality analysis can take hours.

Sampling-based approximation, in which shortest paths are computed from a random subset of source nodes and the results rescaled, can reduce this cost substantially. A body of theoretical work provides formal sample complexity bounds for global centrality on general graphs,

expressed in terms of total node count, graph diameter, VC-dimension, or estimator variance (Eppstein and Wang, 2004; Bader et al., 2007; Riondato and Kornaropoulos, 2016; Borassi and Natale, 2019; Pellegrina and Vandin, 2023). These bounds guarantee additive error ε, which is valuable for applications requiring absolute accuracy but costlier than necessary for applications that need only rank preservation. More fundamentally, because these bounds target global centrality without distance cutoffs, they do not directly account for the distance-dependent structure of localised analysis or calibrate sampling separately for each distance threshold. Two questions therefore remain open for localised centrality on street networks: *how many samples are enough to preserve the ranking of nodes?* and *do the resulting sample sizes also provide meaningful additive error guarantees?*

We address both questions. Using a variance-scaling argument for source-sampled summation estimators motivated by the Hájek estimator (Hájek, 1971), we hypothesise that the effective sample size required for rank stability (Spearman $\rho \geq 0.95$) scales as $\sqrt{r}$, where r is the mean number of nodes reachable within the analysis distance. This yields a simple two-parameter adaptive model, $n_{\text{eff}} = \max(k \cdot \sqrt{r},\ n_{\min})$, that calibrates sampling separately for each distance threshold using a single reach summary per distance. We then adapt the Eppstein–Wang source-sampling bound (Eppstein and Wang, 2004) to the localised setting by replacing the global node count with distance-bounded reach, and empirically evaluate whether the rank-calibrated sample sizes are also consistent with a Hoeffding-style additive-error bound.

Our contributions are:

1. A variance-based hypothesis linking sampling theory to a $\sqrt{r}$ scaling of required effective sample size for rank stability in source-sampled, summation-based centrality measures, together with empirical validation on synthetic street-network topologies.

2. A two-parameter adaptive model fitted on synthetic networks spanning three topologies, with formal model selection across five candidate functional forms and a bootstrap hypothesis test confirming the $\sqrt{r}$ exponent.

3. An adaptation of the Eppstein–Wang source-sampling bound to localised centrality, with empirical evaluation showing that the rank model's recommended sample sizes satisfy the Hoeffding-style bound in over 93% of synthetic configurations. At high reach, the two approaches become numerically consistent in the sense that rank-calibrated sample sizes correspond to an implied normalised additive error on the order of $\varepsilon \approx 0.1$ under the localised bound.

4. Validation on the Greater London (294,000-node) and Greater Madrid street networks at distances from 1–20 km, achieving Spearman $\rho > 0.98$ for both closeness and betweenness centrality with speedups of 5.3–21.0×.

5. An open-source implementation in the `cityseer` Python package.

For clarity, throughout we use r to denote the mean reach (average number of nodes reachable from a source within the distance threshold). This scalar predictor is sufficient for the per-distance calibration studied here, but it does not capture all within-distance heterogeneity (e.g., boundary effects or spatial density variation), which we discuss as a limitation.

2 Background and Related Work

2.1 Computational Cost of Network Centrality

Standard algorithms for localised centrality are built on repeated single-source shortest path computations, but the precise complexity depends on the metric and whether edges are weighted. For distance-based (weighted) closeness variants, one typically runs Dijkstra from every source:

each run is $O(M \log N)$ with a binary heap, yielding $O(NM \log N)$ overall. For betweenness, Brandes' algorithm also performs a shortest-path computation from each source followed by a dependency-accumulation pass; the classic bounds are $O(NM)$ for unweighted graphs (BFS per source) and $O(NM + N^2 \log N)$ for weighted graphs (Brandes, 2001). In sparse street graphs where $M = O(N)$, these costs are commonly superlinear and often effectively quadratic in practice.

The practical consequence is straightforward. A network of 294,000 nodes requires 294,000 Dijkstra runs. Even with distance cutoffs that limit individual traversals, the per-source cost grows with the analysis distance: at a 20 km threshold in a dense urban network, each run may visit tens of thousands of nodes. A single centrality computation at one distance can take hours. Urban morphology studies routinely require multiple distance thresholds, typically spanning two orders of magnitude from pedestrian to metropolitan scales, multiplying the total cost accordingly.

2.2 Sampling-Based Approximation

Both closeness and betweenness can be expressed as sums over contributions from individual source nodes: each source launches a shortest-path computation that contributes to the centrality of every node it reaches. This additive structure makes sampling straightforward — rather than computing from every source, one can compute from a random subset and rescale to estimate the full sum. Under uniform source sampling, Horvitz–Thompson-style rescaling (dividing by the inclusion probability) yields an unbiased estimator of the population sum; ratio estimators such as Hájek are generally consistent and often lower-variance but can be slightly biased in finite samples (Cochran, 1977; Särndal et al., 2003). In either case, sampling error decreases at an approximate $1/\sqrt{k}$ rate with the number of sampled sources, up to finite-population corrections.

Brandes and Pich (2007) introduced this idea for both closeness and betweenness, showing that random pivot selection from a small fraction of source nodes produces useful centrality estimates on networks of tens of thousands of nodes. However, their work did not provide formal error bounds or guidance on choosing the number of sources.

Eppstein and Wang (2004) gave the first formal bound for source-sampled closeness centrality, showing that $O(\log n/\varepsilon^2)$ single-source shortest path computations suffice to approximate the closeness of all vertices to within additive error $\varepsilon \cdot \Delta_G$ with high probability, where Δ_G is the graph diameter. Their approach (sampling source nodes uniformly and averaging the resulting distance estimates) is the most directly comparable to ours, as both methods reduce computation by selecting a random subset of sources. The $\log n$ factor in their bound depends on the total number of nodes, regardless of the analysis distance.

Bader et al. (2007) gave the first probabilistic error bound for sampled betweenness, showing that $O(1/\varepsilon^2)$ samples suffice to approximate the betweenness of a single vertex to within additive error ε with high probability. Their adaptive algorithm doubles the sample count until the confidence interval contracts below a user-specified threshold. The bound applies per vertex and does not directly provide uniform approximation across all vertices simultaneously.

Riondato and Kornaropoulos (2016) addressed the uniform approximation problem using Vapnik–Chervonenkis (VC) dimension theory (Vapnik and Chervonenkis, 1971). They showed that the number of samples required for a uniform additive ε-approximation of all betweenness values depends on the VC-dimension of the set of shortest paths, which is bounded by $\lfloor \log_2(\mathrm{VD}-2) \rfloor + 1$, where VD is the vertex-diameter of the graph. This yields sample complexity logarithmic in the vertex-diameter rather than the number of nodes. The resulting bounds are worst-case, however, and can be conservative for well-structured networks such as urban street grids.

For closeness centrality specifically, Cohen et al. (2014) proposed an approximation framework that exploits the structure of closeness (a sum of inverse distances) to achieve tighter bounds than generic betweenness methods. Their approach uses random sampling of target

nodes rather than source nodes and provides per-vertex confidence intervals.

Borassi and Natale (2019) introduced KADABRA, an adaptive algorithm for betweenness that adjusts the number of samples online. KADABRA maintains running confidence intervals for each vertex's betweenness and terminates when all intervals are sufficiently narrow, eliminating the need to specify the number of samples in advance. Bergamini et al. (2019) provided a comparative evaluation of these and related approaches, finding that adaptive methods generally outperform fixed-sample methods in terms of accuracy per sample, though the overhead of online monitoring can offset some of the savings.

Most recently, Pellegrina and Vandin (2023) introduced SILVAN, which replaces VC-dimension bounds with Monte Carlo Rademacher averages to obtain tighter, *variance-dependent* sample complexity bounds for betweenness. Because SILVAN's bounds depend on the actual variance of the betweenness estimator rather than worst-case combinatorial quantities, they can be substantially tighter on well-structured graphs, an observation consistent with our empirical finding that urban street networks require far fewer samples than worst-case theory predicts. However, SILVAN still targets global betweenness with additive ε-guarantees.

These methods divide into two fundamentally different sampling strategies. *Source-sampling* (Brandes, Eppstein–Wang, Bader) selects a random subset of source nodes and runs a full shortest-path tree from each; every node reachable from a sampled source receives a centrality contribution. *Path-sampling* (Riondato–Kornaropoulos, KADABRA, SILVAN) instead draws random source–target pairs and computes a single shortest path between them, counting betweenness contributions along that path. Cohen's approach is a third variant, *target-sampling*, which samples destination nodes and propagates distance information backward. The distinction matters because standard centrality algorithms, including localised implementations with distance cutoffs, are inherently source-based: each source launches a Dijkstra traversal that is naturally bounded by the distance threshold $d_{\max}$, producing contributions to every node within reach. Source-sampling bounds therefore analyse the same computational primitive that localised centrality uses, whereas path-sampling bounds analyse a different primitive whose relationship to distance-bounded computation is less straightforward.

A common feature of this body of work is that it targets *global* centrality, computed over the entire graph without distance cutoffs, on general (non-spatial) networks. Urban network analysis, by contrast, uses *localised* centrality with distance thresholds that range from hundreds of metres to tens of kilometres. The reachable subgraph at each threshold varies by orders of magnitude, from hundreds of nodes at pedestrian scales to tens of thousands at metropolitan scales. The theoretical bounds reviewed above, expressed in terms of graph diameter, VC-dimension, or total node count, do not directly account for this distance-dependent structure. Whether a single model can bridge this gap, determining sample size from reachability alone across multiple distance scales, is the question we address.

3 Methods

3.1 Centrality Measures

We consider two centrality measures, both computed with a distance cutoff $d_{\max}$ as is standard in urban network analysis. **Harmonic closeness** (Rochat, 2009; Freeman, 1979) sums inverse distances to all nodes within the threshold:

$$C_H(v;\, d_{\max}) = \sum_{u:\, d(v,u) \le d_{\max}} \frac{1}{d(v,u)} \tag{1}$$

Betweenness (Freeman, 1977) counts the fraction of shortest paths (with total length at most $d_{\max}$) that pass through each node:

$$C_B(v;\, d_{\max}) = \sum_{\substack{s \neq v \neq t \\ d(s,t) \leq d_{\max}}} \frac{\sigma_{st}(v)}{\sigma_{st}} \tag{2}$$

where σ_{st} is the number of shortest paths from s to t, and $\sigma_{st}(v)$ is the number passing through v. Common distance thresholds range from 400 m to 20 km.

A quantity central to the sampling analysis is *reach*: the mean number of nodes within $d_{\max}$,

$$r = \frac{1}{N} \sum_{v} |\{u : d(v,u) \leq d_{\max}\}| \tag{3}$$

In the Greater London network, reach ranges from 2,783 at 5 km to 43,165 at 20 km. This order-of-magnitude variation across distance thresholds directly governs the relationship between sample size and accuracy.

3.2 Experimental Design

Our analysis proceeds in three stages: (1) model fitting on synthetic networks with controlled topology, (2) evaluation of the localised Eppstein–Wang error bound on the same synthetic data, assessing whether the rank model's recommended sample sizes also provide formal additive-error guarantees, and (3) validation on large real-world street networks.

We generate synthetic networks using 3 topology templates: trellis (high connectivity, representing planned urban cores), tree (low connectivity, representing suburban sprawl), and linear (intermediate connectivity). These span the range of urban street network structure. Each topology is tiled to create networks of approximately 12km extent, of which we use the inner 4 square. We test 12 distance thresholds from 250m to 4,000m, and 22 sampling probabilities from 2.5% to 100%.

A critical methodological consideration is the treatment of boundary effects. Nodes near network edges have artificially lower centrality because their catchments are truncated. We address this by applying an inward buffer from the convex hull of all nodes, equal to the maximum analysis distance (4km for synthetic networks, 20km for validation). Only nodes inside this buffered zone are marked as "live" and included in accuracy calculations, ensuring all live nodes have complete catchments at all tested distances. This approach concurs with best practice for localised network analysis (Gil, 2017).

3.3 Accuracy Metric

We measure sampling accuracy using Spearman rank correlation (ρ) between sampled and ground-truth centrality values:

$$\rho = 1 - \frac{6 \sum_i (R_i^{\text{sampled}} - R_i^{\text{true}})^2}{N(N^2 - 1)} \tag{4}$$

where R_i denotes the rank of node i. Spearman correlation is appropriate because urban applications typically care about *relative* rankings rather than absolute values, it is robust to the systematic scaling that sampling introduces, and values near 1.0 indicate preserved rankings even if magnitudes differ. We fit the model using a target of $\rho \geq 0.95$: the target accuracy determines which sampling probabilities are deemed sufficient at each configuration, and thus drives the fitted values of k and $n_{\min}$ (Section 4). A stricter target produces larger k (more conservative sampling); a more relaxed target produces smaller k (more aggressive sampling). The methodology generalises to other tolerances, which would yield different model parameters.

We additionally record the maximum absolute error $\varepsilon_{\text{raw}} = \max_v |C^{\text{sampled}}(v) - C^{\text{true}}(v)|$, which enables comparison with the additive ε-approximation bounds used in the theoretical sampling literature (Riondato and Kornaropoulos, 2016; Bader et al., 2007). To apply the Hoeffding concentration inequality (Hoeffding, 1963) (Section 4.6), we normalise this error by the theoretical maximum contribution of each source: $r(r-1)$ for betweenness (the maximum number of pair-paths through any node) and r for harmonic closeness (the maximum sum of inverse distances from r sources). The resulting normalised error $\varepsilon \in [0, 1]$ is directly comparable to the ε parameter in the Eppstein–Wang bound and serves as the accuracy measure for the error-bound.

3.4 Validation Networks

We validate the fitted model on two real-world street networks. The primary validation uses the Greater London Authority (GLA) road network, sourced from Ordnance Survey Open Roads data. After preprocessing (removing filler nodes, consolidating nearby nodes, and removing dangles), the network comprises approximately 294,000 nodes. Its scale far exceeds our synthetic training data, it contains diverse topology (grid-like central areas, tree-like suburbs, and mixed intermediate zones), and reach values at tested distances (5km, 10km, 20km) extend well beyond synthetic data ranges. We apply a 20km inward buffer to eliminate edge artifacts. As an external validation, we also test the model on the Greater Madrid metropolitan street network following the same protocol.

4 Empirical Model and Adaptive Algorithm

4.1 The Opportunity: Sampling Can Work

Figure 1 illustrates why sampling-based centrality is attractive. Panel A shows that accuracy (Spearman ρ) increases with sampling probability across all distance thresholds, but the curves flatten well before 100% sampling. At 4000m distance, $\rho \geq 0.95$ is achieved at just 10% sampling, a 10× potential speedup. Panel B shows that, for a given level of accuracy, the relative speedup from reduced sampling becomes more pronounced as the analysis distance grows. The remainder of this section develops a model calibrated to the rank-preservation target and evaluates whether the resulting sample sizes also provide formal additive-error guarantees.

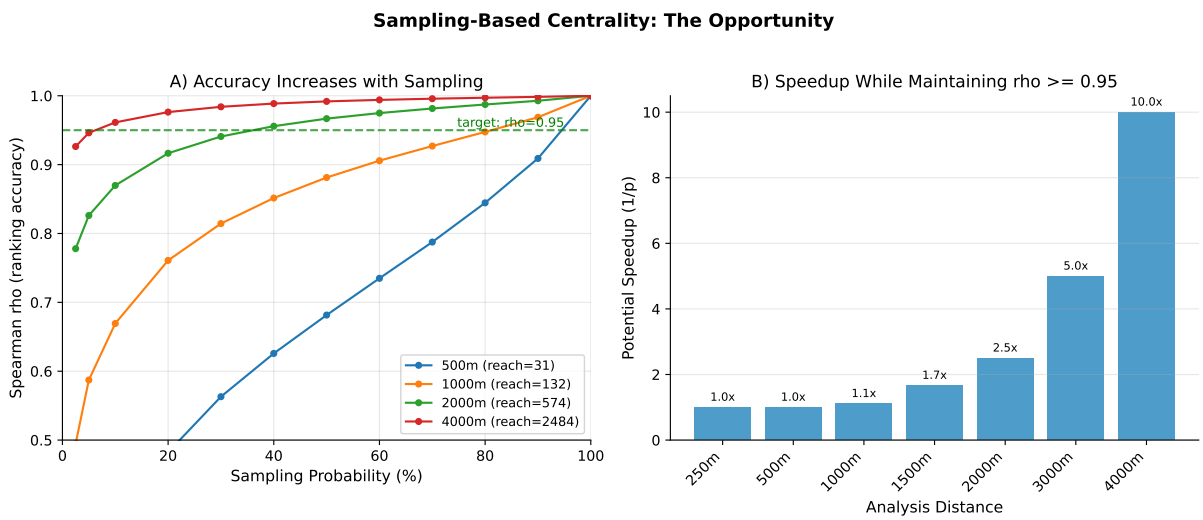

Figure 1: **The sampling opportunity.** (A) Accuracy vs. sampling probability for different analysis distances. The green dashed line marks the $\rho = 0.95$ target. (B) Potential speedup at each distance while maintaining $\rho \geq 0.95$.

4.2 Effective Sample Size and Proportional Scaling

We define the *effective sample size* $n_{\text{eff}} = r \times p$, where r is the mean reachability (average number of nodes reachable per source within the distance threshold) and p is the sampling probability. Figure 2A shows the relationship between n_{eff} and accuracy (Spearman ρ): accuracy improves with n_{eff}, but the required n_{eff} is not constant; it grows with reach.

Figure 2B quantifies this: the minimum n_{eff} required to achieve $\rho \geq 0.95$ scales as $n_{\text{eff}} \propto \sqrt{r}$, which we parameterise as:

$$n_{\text{eff}} = k \cdot \sqrt{r} \tag{5}$$

This scaling can be motivated from survey sampling, but it should be read as a variance-scaling heuristic rather than a universal theorem: the exact relationship depends on how per-source contributions co-vary on real networks and on how ranking stability relates to estimation noise. When n source nodes are sampled uniformly from N live nodes, the Hájek estimator (Hájek, 1971) for the centrality of node v has variance

$$\text{Var}(\hat{C}(v)) = \left(\frac{1}{p} - 1\right) \sigma_v^2 \tag{6}$$

where σ_v^2 is the variance of per-source contributions to $C(v)$ and $p = n/N$ is the sampling probability (Cochran, 1977; Särndal et al., 2003). For summation-based centrality measures (both harmonic closeness and betweenness), the centrality of v can be written as a sum over source contributions within the distance threshold. As reach r grows, the number of contributing terms grows and the variance of the (finite-population) estimand typically increases with r; under an idealised picture in which contributions are weakly dependent and have comparable scale across reachable sources, it is reasonable to expect σ_v^2 to grow approximately linearly in r.

If we further assume that ranking stability is controlled primarily by a roughly constant coefficient of variation $\text{CV} = \sigma_v / C(v)$ across distances, then to keep CV approximately constant as r increases we need the sampling-induced variance inflation factor $\left(\frac{1}{p} - 1\right)$ to shrink accordingly. This leads to an effective sample size requirement that grows sublinearly with reach, and in the linear-variance idealisation above yields $n \propto \sqrt{r}$, i.e. $n_{\text{eff}} = k \cdot \sqrt{r}$ for some constant k. We treat this as a theoretically motivated hypothesis and test it empirically below.

To validate this prediction empirically, we fit the general power model $n_{\text{eff}} = k \cdot r^{\alpha}$ via OLS on log-transformed data ($R^2 = 0.73$). The estimated exponent $\hat{\alpha} = 0.5529$ (bootstrap 95% CI: $[0.40, 0.66]$) does not differ significantly from 0.5 ($p = 0.38$), confirming the theoretical prediction (Figure 8).

For each synthetic configuration that achieves $\rho \geq 0.95$, we compute the implied $k = p \cdot \sqrt{r}$. We take the 75th percentile across all 35 configurations rather than the mean or median: this ensures that the model is conservative, providing sufficient samples for the majority of topology–distance combinations rather than only the average case. This yields $k = 9.91$.

4.3 The Floor: Reliability at Intermediate Reach

The proportional model $n_{\text{eff}} = k \cdot \sqrt{r}$ does not provide reliable estimates at reach lower than approximately 1247. At very low reach ($r \lesssim k^2 \approx 100$), the model prescribes $p = 1.0$ (full computation), so the floor is moot. But at intermediate reach ($100 \lesssim r \lesssim 1247$), the model prescribes $p < 1$ with $n_{\text{eff}} < 350$, which our data indicate is insufficient for reliable estimates.

Figure 3 demonstrates the problem. Panel A shows success rates (fraction of configurations achieving $\rho \geq 0.95$) binned by effective sample size. Below $n_{\text{eff}} = 350$, success rates are erratic; above this threshold, they stabilise at 100%.

Panel B illustrates why: the proportional model's prescribed $n_{\text{eff}} = k\sqrt{r}$ falls below 350 throughout the intermediate reach range, creating a deficit (shaded region) where Panel A

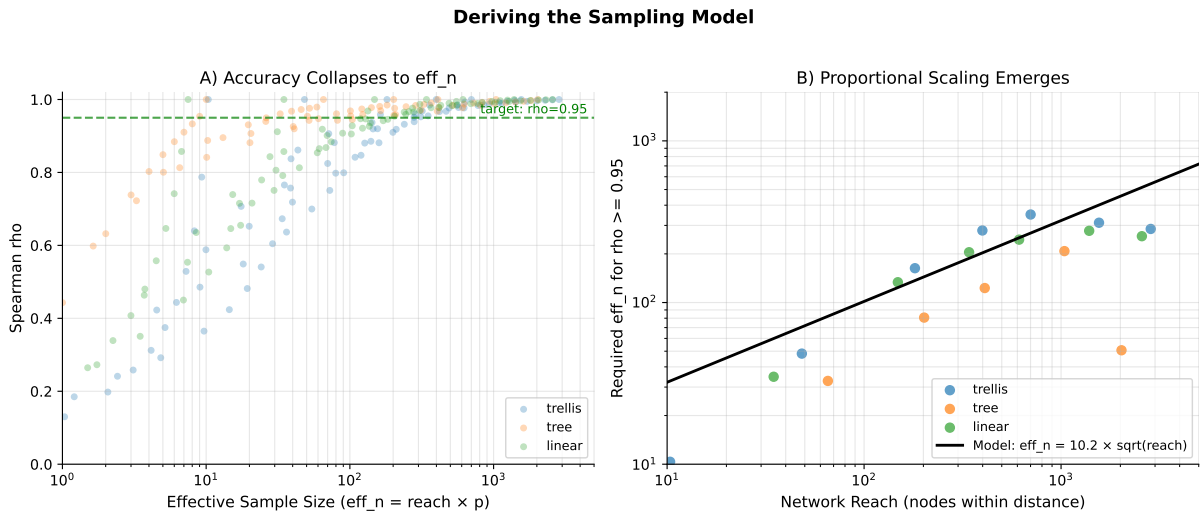

Figure 2: **Deriving the sampling model.** (A) Accuracy vs. effective sample size across topologies and distances. (B) Required n_{eff} for $\rho \geq 0.95$ scales as $\sqrt{r}$, motivating the proportional model.

shows reliability is poor. The two regimes meet at the crossover reach of ≈ 1247; above this, the proportional model provides sufficient n_{eff} on its own.

We determine the floor more rigorously using logistic regression: fitting $P(\rho \geq 0.95) = \text{logistic}(\beta_0 + \beta_1 \cdot n_{\text{eff}})$ and inverting to find the n_{eff} where predicted success probability reaches 95%. This yields $n_{\text{min}} = 359$ (95% CI: $[322, 408]$), confirming the binned analysis while providing uncertainty quantification (Table 1).

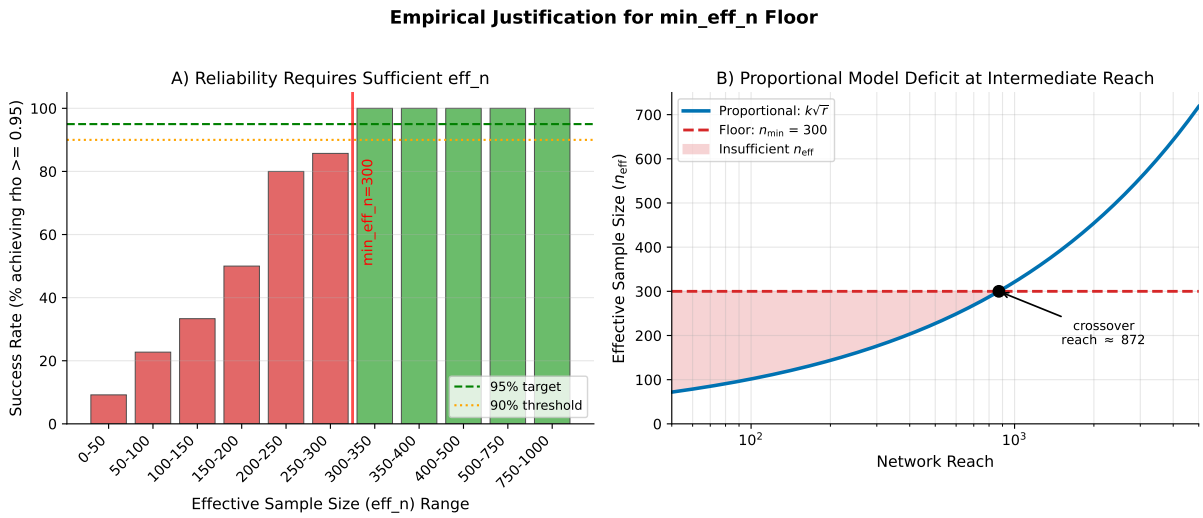

Figure 3: **Justifying the minimum floor.** (A) Success rate by n_{eff} bin. Red bars indicate bins below 0.95 success; the vertical line marks the fitted floor at 350. (B) The proportional model's prescribed $n_{\text{eff}} = k\sqrt{r}$ (blue) falls below the empirical floor 350 (red dashed) at intermediate reach. The shaded region marks the deficit where the proportional model alone provides insufficient samples; the crossover at reach ≈ 1247 is where the two regimes meet.

4.4 The Complete Model

Combining the proportional scaling with the minimum floor yields our final model:

$$n_{\text{eff}} = \max\left(9.91 \cdot \sqrt{r}, 350\right) \tag{7}$$

The sampling probability follows directly:

$$p = \min\left(1, \frac{n_{\text{eff}}}{r}\right) \tag{8}$$

Figure 4 shows the complete model. Panel A displays how the required n_{eff} transitions from the floor regime (flat at 350) to the proportional regime (scaling as $\sqrt{r}$) at the crossover point $r = 1247$. Panel B shows the corresponding sampling probability, which decreases as $1/\sqrt{r}$ once past the crossover.

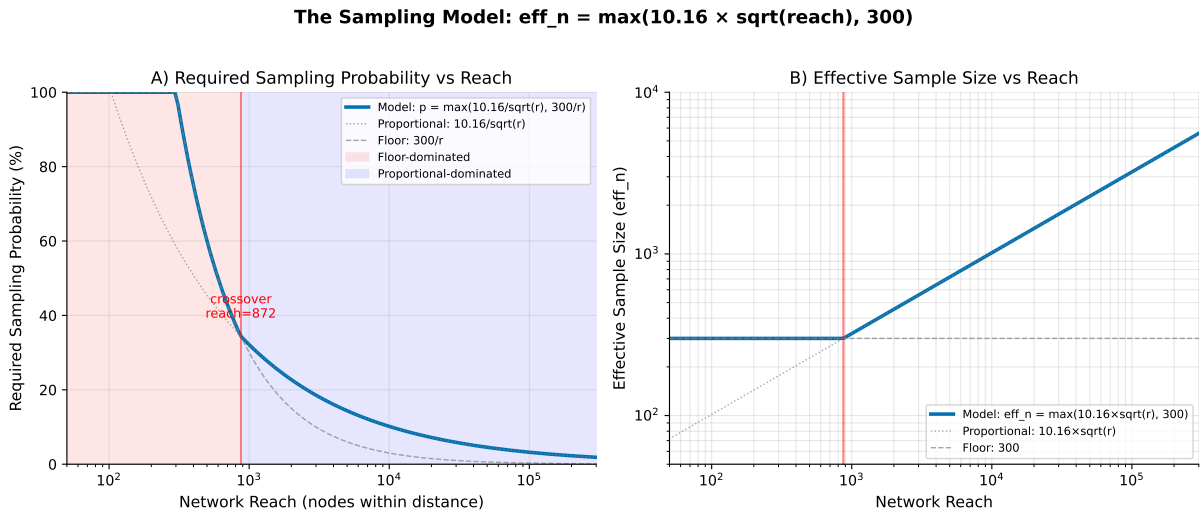

Figure 4: **The complete sampling model.** (A) Required effective sample size: floor regime (flat, $n_{\text{eff}} = 350$) transitions to proportional regime ($n_{\text{eff}} = 9.91 \cdot \sqrt{r}$) at reach ≈ 1247. (B) Required sampling probability: decreases as reach increases, enabling greater speedup for large-scale analysis.

Table 1 summarises the fitted model parameters.

Table 1: Fitted sampling model parameters.

Parameter	Value	Range	Description
k	10.16	[7.1, 13.27]	Proportional scaling constant
$n_{\min}$	300	–	Minimum effective sample size
Crossover reach	872	–	Where $k\sqrt{r} = n_{\min}$
$\hat{\alpha}$	0.5	–	Estimated power exponent

Model: $n_{\text{eff}} = \max(k \cdot \sqrt{r},\ n_{\min})$, where r is the network reach. Sampling probability: $p = \min(1,\ n_{\text{eff}}/r)$.
k: 75th percentile of implied values across configurations; range shows [mean, 95th percentile].
$n_{\min}$: logistic regression inversion at 95% success rate; range shows 95% CI.
$\hat{\alpha}$: estimated from general power model $n_{\text{eff}} = k \cdot r^{\alpha}$;
not significantly different from 0.5 ($p = --$), supporting the fixed $\sqrt{r}$ specification.

4.5 Model Selection

To justify the proposed $\sqrt{r}$ + floor specification against alternatives, we compare 5 candidate models: plain $\sqrt{r}$, $\sqrt{r}$ + floor (proposed), general power r^α, general power + floor, and logarithmic. Models are fitted by maximum likelihood using a logistic observation model and evaluated by AIC and leave-one-topology-out cross-validated Brier score (Table 2).

The General power model ($n_{\text{eff}} = k \cdot r^\alpha$, with $\hat{\alpha} = 0.5529$) achieves the lowest AIC (850.0), while the proposed $\sqrt{r}$ + floor model has $\Delta\text{AIC} = 11.6$. However, cross-validated Brier scores are similar across all models (0.2123 vs. 0.2180), indicating that differences in out-of-sample prediction are modest: the AIC advantage does not translate into meaningfully better generalisation to held-out topologies. We retain the $\sqrt{r}$ specification for three reasons: (1) the hypothesis test does not reject $\alpha = 0.5$ ($p = 0.38$), so the data are consistent with square root scaling; (2) fixing $\alpha = 0.5$ provides a direct connection to sampling theory (SE $\propto 1/\sqrt{n}$), making the model interpretable rather than purely empirical; and (3) the floor component addresses a qualitatively distinct failure mode at low reach that none of the single power law candidates capture, even though the floor's contribution to in-sample fit is small. This is a modelling choice driven by interpretability and robustness rather than in-sample fit.

Table 2: Model comparison for effective sample size prediction. Models ranked by AIC; ΔAIC < 2 indicates substantial support.

Model	**Formula**	n_p	**AIC**	**ΔAIC**	**CV Brier**
General power	$k\,r^\alpha$	2	850.0	0.0	0.2123
Power + floor	$\max(k\,r^\alpha, m)$	3	853.2	3.2	0.2145
Square root	$k\sqrt{r}$	1	859.0	9.0	0.2195
Logarithmic	$k_1 + k_2 \log r$	2	861.0	11.0	0.2156
Sqrt + floor (proposed)	$\max(k\sqrt{r}, m)$	2	861.6	11.6	0.2180

n_p: number of fitted parameters. CV Brier: leave-one-topology-out cross-validated Brier score (lower is better). ΔAIC < 2: substantial support; 2–10: some support; > 10: essentially no support.

4.6 Relationship to Theoretical Bounds

The existing literature on centrality approximation provides worst-case sample complexity bounds expressed in terms of additive error ε (Section 2). Table 3 summarises how these results relate to our approach.

Table 3: Comparison of sampling approaches for centrality approximation. All prior methods target global centrality (no distance cutoff) on general graphs. Our model targets localised centrality on urban street networks.

Method	**Metric**	**Error type**	**Sample complexity**	**Key parameter**
Eppstein–Wang	Closeness	Additive ε	$O(\log n \,/\, \varepsilon^2)$	Node count n
Bader et al.	Betweenness	Additive ε	$O(1 \,/\, \varepsilon^2)$	Per vertex
Riondato–Korn.	Betweenness	Uniform ε	$O(\text{VD} \,/\, \varepsilon^2)$	VC-dimension
KADABRA	Betweenness	Uniform ε	$O(\log D \,/\, \varepsilon^2)$	Diameter D
SILVAN	Betweenness	Non-uniform ε	Variance-dependent	Path variance
This work	**Both**	**Rank ρ**	$\mathbf{\max(k\sqrt{r},\, n_{\min})}$	**Reach r**

Among the bounds surveyed here, Eppstein–Wang is the only one that analyses source-sampling, the same computational primitive our algorithm uses. The path-sampling bounds (Riondato–Kornaropoulos, KADABRA, SILVAN) are not straightforwardly adapted to the localised setting, and Bader et al.'s per-vertex bound does not directly provide simultaneous guar-

antees. We therefore adapt the Eppstein–Wang bound to localised centrality by replacing the global node count with the distance-bounded reach, yielding a localised bound of $O(\log r/\varepsilon^2)$.

Three factors explain why our model requires substantially fewer samples than these bounds predict. First, the relevant graph for each node is the local subgraph of r reachable nodes, not the full network, and the effective sample size $n_{\text{eff}} = p \cdot r$ depends on this local quantity. Second, our rank-correlation target ($\rho \geq 0.95$) is strictly weaker than uniform additive ε-approximation: Spearman ρ measures average rank agreement, not worst-case accuracy at every node, so the $\log n$ union-bound factor is not required. Third, urban street networks are planar with bounded degree, constraining estimator variance well below worst-case assumptions for general graphs.

At high reach, the two perspectives converge. The rank model's recommended effective sample size corresponds to an implied additive error of $\varepsilon(r) = \sqrt{\log(2r/\delta)/(2k^2 r)}$, which decreases with reach: at $r \approx 3{,}000$, the implied $\varepsilon \approx 0.1$, and at $r = 30{,}000$ it is about 0.06. The localised bound holds in over 93% of synthetic configurations, with violations confined to low reach where concentration guarantees are weak and sampling offers limited computational benefit (Appendix A.7). We report error bounds alongside rank accuracy on the validation networks in Section 5.

4.7 Adaptive Sampling Algorithm

The model determines a sampling probability for each distance threshold based on reach. Because reach varies with distance, optimal sampling also varies: short distances (low reach) may require full computation, while long distances enable aggressive sampling. Algorithm 1 presents the complete procedure.

Algorithm 1 Adaptive Per-Distance Sampling for Network Centrality

Require: Network $G = (V, E)$, distance thresholds $D = \{d_1, \ldots, d_m\}$
Require: Model parameters $k = 9.91$, $n_{\min} = 350$
Ensure: Centrality estimates $\hat{C}[d]$ for each $d \in D$

```
Phase 1: Reach Estimation
for each distance d ∈ D do
    Compute reach r_d ← mean nodes within distance d
end for
Phase 2: Adaptive Sampling
for each distance d ∈ D do
    Compute effective sample size: n_eff,d ← max(k · √r_d, n_min)
    Compute sampling probability: p_d ← min(1, n_eff,d / r_d)
    Sample sources S_d ⊆ V with probability p_d
    Compute centrality from S_d: Ĉ[d] ← Centrality(G, S_d, d)
    Scale estimates: Ĉ[d] ← Ĉ[d] / p_d
end for
return {Ĉ[d] : d ∈ D}
```

The reach r_d is typically a byproduct of the centrality computation itself; when a quick estimate is needed beforehand, a pilot sample of ≈ 100 nodes distributed on a square kilometre grid suffices. Sources are sampled uniformly at random, and sampled values are scaled by $1/p$ to produce unbiased estimates. This scaling is exact for betweenness (each source contributes independently) and approximate for harmonic closeness, though our floor constraint ($n_{\text{eff}} \geq 350$) ensures p is never low enough for the approximation to matter.

4.8 Computational Complexity

With sampling probability p, we compute from pN sources instead of N, reducing single-source computations by a factor of $1/p$. The theoretical speedup at high reach is $\sqrt{r}/k$, since $p = k/\sqrt{r}$; larger networks benefit more from sampling. For a network with distances spanning 500 m to 20 km, the model prescribes $p = 1.0$ at 500 m (reach $\approx$ 200, no benefit), $p \approx 0.26$ at 5 km (reach $\approx$ 3,000), and $p \approx 0.07$ at 20 km (reach $\approx$ 40,000), yielding a theoretical 14× speedup at the longest distance.

5 Validation

5.1 Experimental Protocol

We validate the model on the GLA and Greater Madrid networks described in Section 3. For each distance threshold, we compute ground-truth centrality ($p = 1.0$) and sampled centrality at probabilities from 1% to 100%, measuring Spearman ρ between the two. Each configuration is repeated with 3 random seeds; we report the mean ± standard deviation.

5.2 GLA Results

Figure 5 shows validation results for the Greater London network. At all three distances, the model-recommended probability achieves $\rho > 0.98$, exceeding the 0.95 target. Observed ρ consistently exceeds model predictions, demonstrating appropriate conservatism.

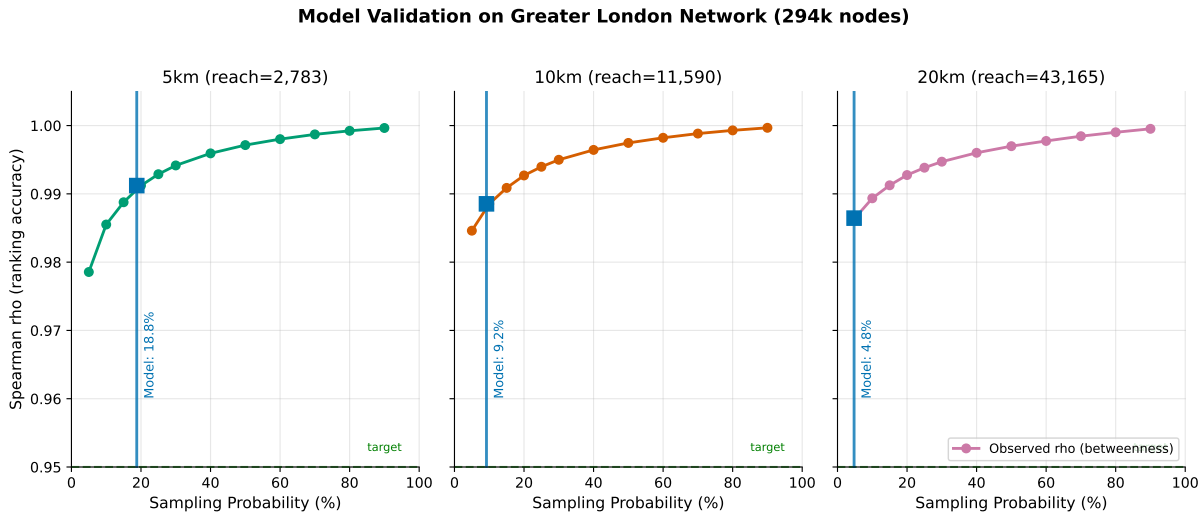

Figure 5: **GLA network validation.** (A) Accuracy vs. sampling probability at 5km, 10km, and 20km distances. Markers indicate the model-recommended probability; all exceed the 0.95 target. (B) Model conservatism: observed ρ exceeds predictions at all distances.

Table 4 presents detailed results. At 5km (reach = 2,783), observed $\rho = 0.991$ with 5.3× speedup. At 10km (reach = 11,590), $\rho = 0.989$ with 10.9× speedup. At 20km (reach = 43,165), $\rho = 0.986$ with 21.0× speedup. Standard deviations across replications are small (< 0.005 in ρ), indicating that a single sampled computation is sufficient for most purposes.

The validation demonstrates successful extrapolation well beyond synthetic training data: from $\approx$ 2,000-node training networks to 294,000 nodes, from maximum training reach of $\approx$ 2,600 to 43,165, and from controlled synthetic topologies to heterogeneous real-world structure. Despite these extrapolations, predictions remain conservative, suggesting that the n_{eff}-accuracy relationship is a robust property of network centrality rather than an artifact of specific configurations.

Table 4: Model Validation on Greater London Network

Distance	Reach	Model p	Observed ρ	Speedup	$\rho \geq 0.95$?
5km	2,783	18.8%	0.9912	5.3×	✓
10km	11,590	9.2%	0.9885	10.9×	✓
20km	43,165	4.8%	0.9864	21.0×	✓

Network: Greater London Area, 294,486 nodes, 20km live node buffer.

We also evaluate the localised Eppstein–Wang bound (Section 4.6) on the GLA network. At each distance, the observed normalised error falls within the Hoeffding-style predicted bound for both closeness and betweenness, consistent with the synthetic validation (Appendix A.7). The theoretical bounds require one to two orders of magnitude more samples than our model to achieve the same ε, confirming that the rank-based approach provides substantial computational savings for applications that require rank preservation rather than additive accuracy.

5.3 External Validation: Madrid

To test generalisability beyond London, we applied the identical protocol to the Greater Madrid metropolitan street network. The model achieves $\rho > 0.95$ for both closeness and betweenness at all tested distances (Figure 6), confirming that the fitted parameters generalise across morphologically distinct European cities. The localised EW bound likewise holds at all tested distances on the Madrid network, providing independent confirmation that the rank model's sample sizes satisfy the Hoeffding-style error guarantee on real-world networks with different morphological characteristics.

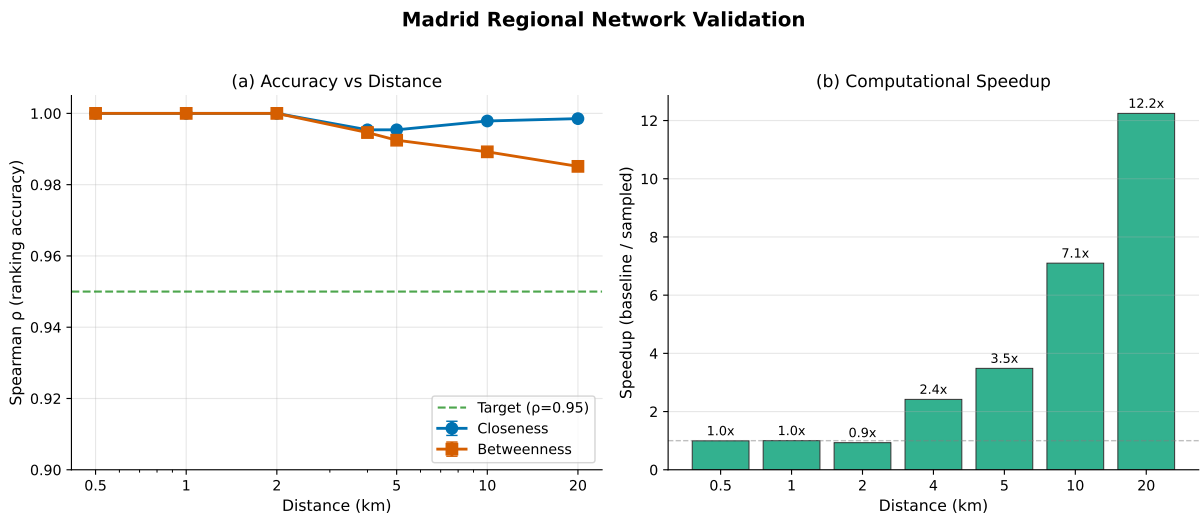

Figure 6: **Madrid external validation.** (A) Accuracy vs. distance for closeness and betweenness centrality. (B) Speedup at each distance.

6 Discussion

6.1 Practical Guidelines

For users of the `cityseer` library, the adaptive sampling model is applied automatically. For other frameworks, the procedure is: (1) estimate reach r at each analysis distance, (2) compute

$n_{\text{eff}} = \max(9.91 \cdot \sqrt{r}, 350)$ and $p = \min(1, n_{\text{eff}}/r)$, and (3) compute centrality from a random p-fraction of sources, scaling results by $1/p$.

Figure 7 provides visual lookup charts for common scenarios, and Table 5 gives a numerical reference for representative reach values.

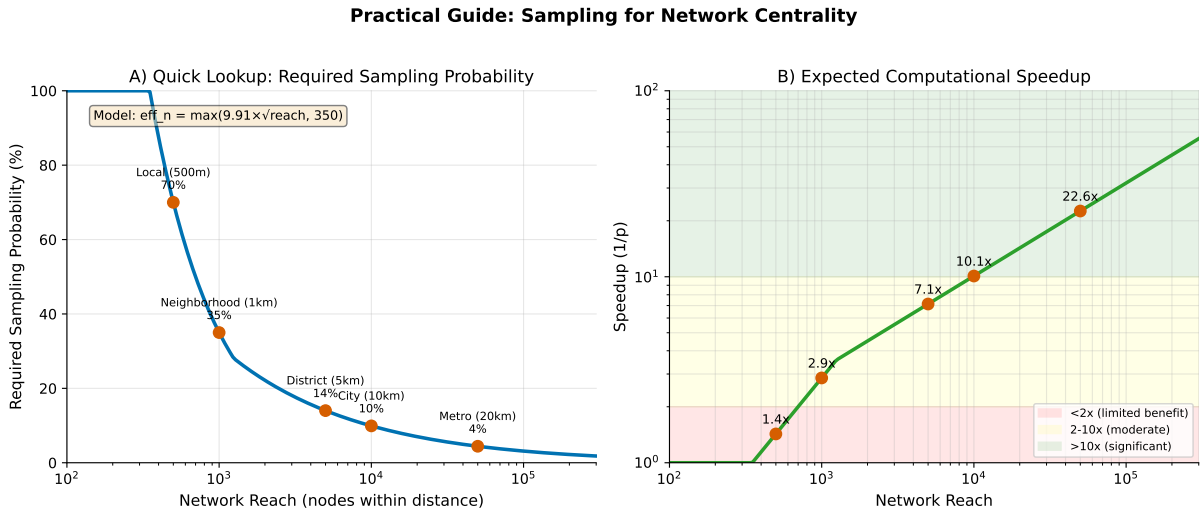

Figure 7: **Practical guidance.** (A) Required sampling probability by network reach, with common urban scenarios annotated. (B) Expected computational speedup.

Table 5: Practical Sampling Lookup Table

Reach	eff_n	p (%)	Speedup
100	350	100.0	1.0×
200	350	100.0	1.0×
500	350	70.0	1.4×
1,000	350	35.0	2.9×
2,000	443	22.2	4.5×
5,000	701	14.0	7.1×
10,000	991	9.9	10.1×
20,000	1401	7.0	14.3×
50,000	2216	4.4	22.6×
100,000	3134	3.1	31.9×

Usage: Find your network reach (nodes within analysis distance), read off the required sampling probability.
Model: $n_{\text{eff}} = \max(9.91 \cdot \sqrt{r}, 350)$, $p = n_{\text{eff}}/r$.

As a rough guide: at reach below 1247, use full computation, since sampling overhead outweighs savings. At reach 1,000–10,000, sample 10–30% (3–10× speedup). At reach above 10,000, sample 5–15% (7–20× speedup). For applications requiring higher accuracy than $\rho \geq 0.95$, increase n_{eff} by a factor of 1.5–2× or average 2–3 replications with different random seeds.

Sampling is not appropriate when exact centrality values (not approximations) are required, when centrality is needed for specific nodes rather than the full network, or when the network is small enough (< 1,000 nodes) that full computation is already fast.

6.2 Model Assumptions and Limitations

Our model rests on several assumptions. First, we assume uniform random sampling of source nodes. Non-uniform strategies (stratified by location or weighted toward high-centrality sources)

could potentially achieve higher accuracy with fewer samples, but would require information about node importance that is unavailable before computation. Second, the model treats the network as statistically homogeneous: accuracy depends on global reach, not local structure. Real networks have heterogeneous topology, with dense urban cores surrounded by sparse suburbs. Our validation on the GLA and Madrid networks, which exhibit such heterogeneity, shows the model remains conservative overall, but accuracy may vary locally. For applications requiring spatially uniform accuracy, local calibration or stratified sampling could be explored. Third, we fitted the model primarily to betweenness centrality, which is more demanding than harmonic closeness. The model is therefore conservative for closeness, where lower sampling probabilities would suffice. Finally, our experiments used shortest-path distance; angular (simplest-path) distance, common in space syntax analysis, may exhibit different accuracy characteristics and warrants systematic validation.

6.3 Future Directions

Several extensions could improve this work. On the theoretical side, proving that $n_{\text{eff}} \propto \sqrt{r}$ suffices specifically for rank stability with high probability remains an open problem; such a result would require bounding how per-source centrality contributions scale with reach across different topologies. The conservatism of the Hoeffding-based bound (Section 4.6) suggests that tighter concentration inequalities exploiting graph structure could reduce the gap between theoretical and empirical sample requirements. SILVAN's variance-dependent bounds (Pellegrina and Vandin, 2023), which replace worst-case combinatorial quantities with the actual estimator variance, represent a promising direction for tightening the localised bound on well-structured network classes.

On the practical side, adaptive per-node sampling, where the probability varies with local reach, could improve efficiency in heterogeneous networks. Importance sampling, weighting toward high-centrality sources, could reduce variance. Online stopping criteria, as in KADABRA (Borassi and Natale, 2019), could replace a priori calibration with adaptive termination based on observed convergence, but adapting such methods to localised, distance-bounded centrality with rank-correlation targets would require new theoretical development. Systematic validation for angular distance and extension to other centrality measures (eigenvector centrality, PageRank) would broaden applicability.

7 Conclusion

We have presented a two-parameter model that determines the sampling probability for network centrality approximation from network reach alone. On our synthetic suite, a power-law fit yields an exponent that is consistent with square-root scaling (we do not reject $\alpha = 0.5$), and model comparison across five candidate functional forms supports the robustness of the proposed specification. Validation on the Greater London (294,000 nodes) and Madrid street networks achieves Spearman $\rho > 0.98$ at all tested distances (5–20km), with speedups of 5.3–21.0×, demonstrating that the model extrapolates well beyond the synthetic networks on which it was trained.

By adapting the Eppstein–Wang source-sampling bound to the localised setting, we find that the resulting Hoeffding-style bound holds for the rank model's recommended sample sizes in over 93% of synthetic configurations, with most violations confined to a low-reach regime where sampling provides limited benefit and concentration guarantees are weak. At high reach, the two perspectives become numerically consistent: under the localised bound analysis, rank-calibrated sample sizes correspond to an implied normalised additive error on the order of $\varepsilon \approx 0.1$. The rank model and the localised error bound thus address complementary needs: rank preservation for comparative urban analysis, and additive accuracy for applications requiring absolute centrality

estimates.

The practical value lies in providing analysts with a calibrated way to trade computation time for approximation error, with evidence that sampled results preserve ranking accuracy and, at large reach, correspond to tighter implied additive-error levels under a conservative concentration analysis. The largest benefits accrue at long distances on large networks, precisely where computational cost is highest. More broadly, our results suggest that the effective sample size–accuracy relationship is not purely an artifact of the synthetic configurations studied here, though further validation on non-European cities would strengthen this claim.

The model is implemented in the open-source `cityseer` Python library.[1] Fitting scripts, validation data, and model comparison analyses are available in the repository's `analysis/sampling/` directory.

References

Bader, D. A., Kintali, S., Madduri, K., and Mihail, M. (2007). Approximating Betweenness Centrality. In *Algorithms and Models for the Web-Graph (WAW 2007)*, volume 4863 of *Lecture Notes in Computer Science*, pages 124–137. Springer.

Bergamini, E., Borassi, M., Crescenzi, P., Marino, A., and Meyerhenke, H. (2019). Comparing the speed and accuracy of approaches to betweenness centrality approximation. *Computational Social Networks*, 6(1):5.

Borassi, M. and Natale, E. (2019). KADABRA is an ADaptive Algorithm for Betweenness via Random Approximation. In *27th Annual European Symposium on Algorithms (ESA 2019)*, pages 20:1–20:18.

Brandes, U. (2001). A faster algorithm for betweenness centrality. *Journal of Mathematical Sociology*, 25(2):163–177.

Brandes, U. and Pich, C. (2007). Centrality Estimation in Large Networks. In *Proceedings of the 33rd International Workshop on Graph-Theoretic Concepts in Computer Science (WG 2007)*, volume 4769 of *Lecture Notes in Computer Science*, pages 90–100. Springer.

Cochran, W. G. (1977). *Sampling Techniques*. Wiley, 3rd edition.

Cohen, E., Delling, D., Pajor, T., and Werneck, R. F. (2014). Computing Classic Closeness Centrality, at Scale. In *Proceedings of the Second ACM Conference on Online Social Networks (COSN)*, pages 37–50.

Eppstein, D. and Wang, J. (2004). Fast Approximation of Centrality. *Journal of Graph Algorithms and Applications*, 8(1):27–34.

Freeman, L. C. (1977). A Set of Measures of Centrality Based on Betweenness. *Sociometry*, 40(1):35–41.

Freeman, L. C. (1979). Centrality in Social Networks: Conceptual Clarification. *Social Networks*, 1(3):215–239.

Gil, J. (2017). Street network analysis "edge effects": Examining the sensitivity of centrality measures to boundary conditions. *Environment and Planning B: Urban Analytics and City Science*, 44(5):819–836.

[1] `https://github.com/benchmark-urbanism/cityseer-api`

Hagberg, A. A., Schult, D. A., and Swart, P. J. (2008). Exploring Network Structure, Dynamics, and Function using NetworkX. In *Proceedings of the 7th Python in Science Conference (SciPy 2008)*, pages 11–15.

Hájek, J. (1971). Comment on "An Essay on the Logical Foundations of Survey Sampling, Part One". *Metrika*, 17(1):1–30.

Hoeffding, W. (1963). Probability Inequalities for Sums of Bounded Random Variables. *Journal of the American Statistical Association*, 58(301):13–30.

Horvitz, D. G. and Thompson, D. J. (1952). A Generalization of Sampling Without Replacement from a Finite Universe. *Journal of the American Statistical Association*, 47(260):663–685.

Pellegrina, L. and Vandin, F. (2023). SILVAN: Estimating Betweenness Centralities with Progressive Sampling and Non-uniform Rademacher Bounds. *ACM Transactions on Knowledge Discovery from Data*, 18(3):1–40.

Riondato, M. and Kornaropoulos, E. M. (2016). Fast Approximation of Betweenness Centrality through Sampling. *Data Mining and Knowledge Discovery*, 30(2):438–475.

Rochat, Y. (2009). Closeness Centrality Extended to Unconnected Graphs: The Harmonic Centrality Index. In *Applications of Social Network Analysis (ASNA 2009)*.

Särndal, C.-E., Swensson, B., and Wretman, J. (2003). *Model Assisted Survey Sampling*. Springer, 2nd edition.

Vapnik, V. N. and Chervonenkis, A. Y. (1971). On the uniform convergence of relative frequencies of events to their probabilities. *Theory of Probability and Its Applications*, 16(2):264–280.

A Technical Details

A.1 Synthetic Network Generation

Synthetic networks are generated using tile-based templates. Each template defines a connectivity pattern within a single tile; tiles are then arrayed to create networks of the desired extent.

Trellis A regular grid with diagonal connections, representing highly connected urban cores. Average degree ≈ 4.

Tree A hierarchical branching structure where each node connects to at most 3 others. Represents suburban cul-de-sac development. Average degree ≈ 2.3.

Linear A constrained grid with fewer cross-connections than trellis. Intermediate connectivity. Average degree ≈ 3.

Networks are tiled 24×24 to achieve approximately 12km extent, then the largest connected component is extracted. Node positions are perturbed slightly to avoid perfectly regular spacing.

A.2 GLA Network Preprocessing

The Greater London Authority road network is sourced from Ordnance Survey Open Roads data (GeoPackage format).

Preprocessing steps:

1. Remove invalid and empty geometries

2. Explode multi-part geometries
3. Build NetworkX graph from edges
4. Remove filler nodes (degree-2 nodes that don't represent junctions)
5. Remove dangling nodes (dead-end segments < 20m)
6. Consolidate nearby nodes (threshold 1m)
7. Extract largest connected component

Final network: $\approx$ 294,000 nodes.

A.3 Correctness Verification Against NetworkX

To ensure the correctness of our Rust-based centrality implementation in `cityseer`, we conducted systematic verification against the widely-used NetworkX library (Hagberg et al., 2008). For each synthetic network topology and distance threshold combination, we computed both harmonic closeness and betweenness centrality using our Rust implementation (via `cityseer` Python bindings) and NetworkX's reference functions.

For each node v in the test networks, we computed the absolute difference $\Delta_v = |C_{\text{cityseer}}(v) - C_{\text{NetworkX}}(v)|$. The maximum difference across all nodes and all test configurations was $\max_v \Delta_v < 10^{-6}$, attributable to floating-point arithmetic precision.

Verification was performed across all three synthetic topologies, distance thresholds from 200m to 3200m, both shortest-path and angular distance heuristics, and both harmonic closeness and betweenness centrality.

A.4 Hájek Estimator

When estimating population totals from samples, two classical approaches exist: the Horvitz-Thompson (H-T) estimator and the Hájek estimator. We selected the Hájek estimator based on theoretical considerations.

The Horvitz-Thompson estimator (Horvitz and Thompson, 1952) estimates a population total as $\hat{T}_{HT} = \sum_{i \in S} y_i/\pi_i$, where S is the sample and π_i is the inclusion probability. The Hájek estimator (Hájek, 1971) instead uses a ratio form:

$$\hat{T}_H = N \cdot \frac{\sum_{i \in S} y_i/\pi_i}{\sum_{i \in S} 1/\pi_i} \tag{9}$$

where N is the known population size. For simple random sampling with equal inclusion probabilities, the Hájek estimator has variance $\text{Var}(\hat{T}_H) \approx \text{Var}(\hat{T}_{HT}) \cdot (1 - n/N)$. Since the population size (total number of network nodes) is known, the Hájek estimator is the natural choice. In our implementation, centrality contributions are accumulated unscaled during traversal, then multiplied by N/n (total nodes divided by sampled nodes) after all sources have been processed.

A.5 Implementation in `cityseer`

The sampling model is implemented in the `cityseer` Python library (version 4.23+). The adaptive function automatically probes reachability, computes sampling probabilities from the fitted model, and scales results:

```
from cityseer.metrics import networks

gdf = networks.node_centrality_shortest_adaptive(
```

```
    network_structure,
    nodes_gdf,
    distances=[500, 1000, 2000, 5000, 10000],
    compute_closeness=True,
    compute_betweenness=True,
    target_rho=0.95
)
```

For manual control, a fixed sampling probability can be specified via the `sample_probability` parameter of `node_centrality_shortest`. Helper functions for custom workflows (`compute_required_p`, `probe_reachability`, `spatial_sample`) are available in the `cityseer.config` module; see the library documentation for details.

A.6 Power Exponent Diagnostics

Figure 8 presents bootstrap diagnostics for the power exponent α in the general model $n_{\text{eff}} = k \cdot r^{\alpha}$. The estimated $\hat{\alpha} = 0.5529$ is consistent with the theoretical value of 0.5.

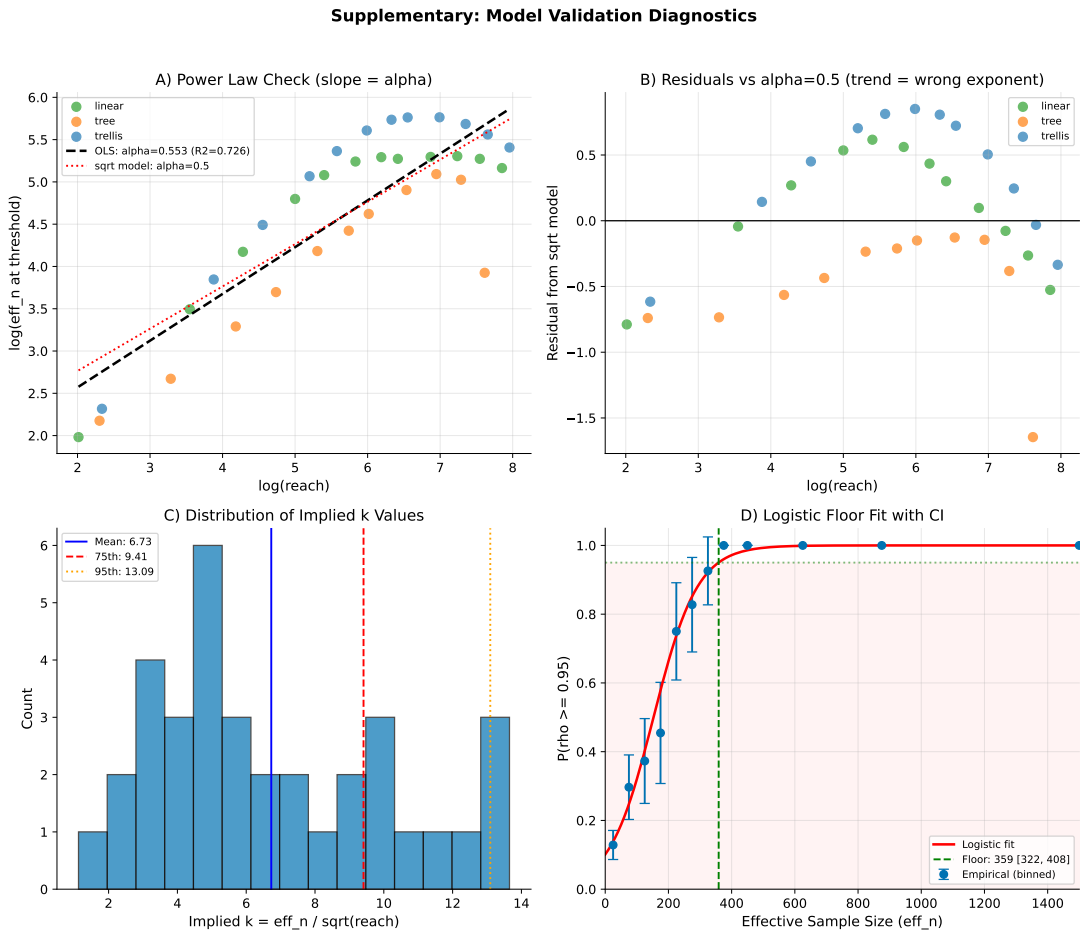

Figure 8: **Power exponent diagnostics.** Bootstrap distribution of the estimated exponent $\hat{\alpha}$. The theoretical value $\alpha = 0.5$ falls within the 95% confidence interval.

A.7 Localised Eppstein–Wang Bound: Detailed Validation

We evaluate the localised Hoeffding-based error guarantee at the rank model's recommended sample sizes across all 440 synthetic configurations. At each configuration, the observed nor-

malised error ε_{obs} (maximum absolute error divided by the theoretical maximum) is compared against the predicted bound $\varepsilon_{\text{pred}} = \sqrt{\log(2r/\delta)/(2 \cdot n_{\text{eff}})}$ with $\delta = 0.1$.

Overall, 412 of 440 configurations (93.6%) satisfy the bound, exceeding the nominal 90% guarantee. Harmonic closeness achieves 100% success (220/220), while betweenness achieves 87.3% (192/220). The betweenness shortfall is not statistically significant: under the null hypothesis that the true success rate is 90%, the observed count falls within 1.4 standard deviations of the expectation ($n = 220$, $\sigma = 4.4$). Violations concentrate at low reach ($r < 100$, corresponding to analysis distances $\leq 500\,\text{m}$), where $n_{\text{eff}} < 10$ and the Hoeffding inequality is in its degenerate small-sample regime. Conditional on reach ≥ 100, the success rate rises to 99.7% overall (307/308) and 99.4% for betweenness (153/154).

The bound is conservative: median predicted-to-observed epsilon ratios are 3.8× for betweenness and 260× for harmonic closeness (Figure 9A). This gap reflects two factors: the Hoeffding inequality assumes worst-case bounded summands, whereas per-source contributions on planar networks have substantially lower variance; and worst-case uniform bounds do not exploit the spatial correlation of errors across neighbouring nodes.

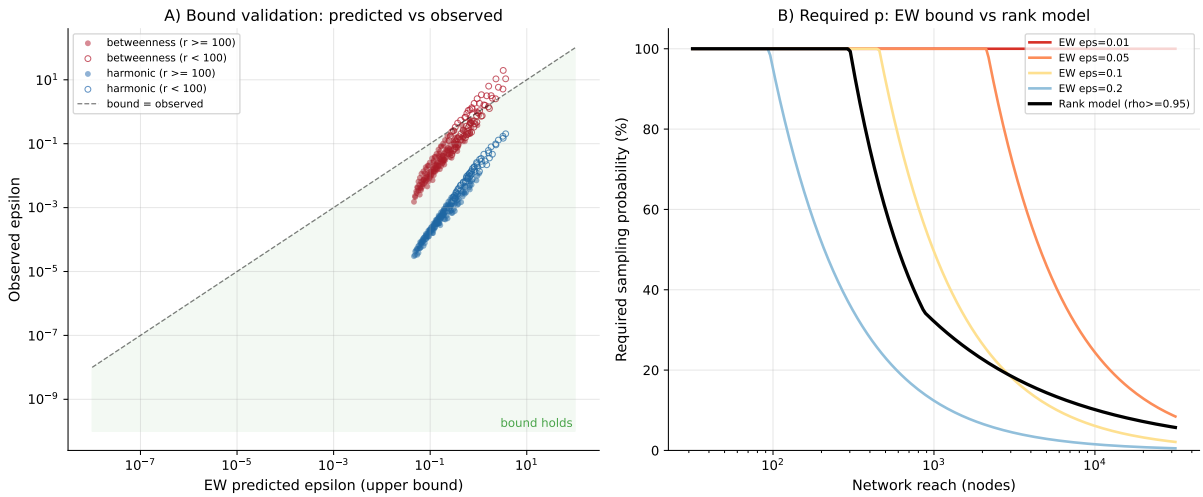

Figure 9: **Localised Eppstein–Wang bound on synthetic data.** (A) Predicted vs observed normalised error. Points below the diagonal satisfy the bound. Filled markers indicate high-reach configurations ($r \geq 100$); open markers indicate low-reach ($r < 100$) where concentration bounds are degenerate. (B) Required sampling probability by reach for the EW bound at various error tolerances compared with the rank model; the two converge at $\varepsilon \approx 0.1$ for large reach.

Table 6: Required effective sample sizes under the rank-based model ($\rho \geq 0.95$) and the localised Eppstein–Wang bound at different additive error tolerances ($\delta = 0.1$). The final column shows the normalised additive error that the rank model's sample size would guarantee under the EW bound.

Reach	**Rank n_{eff}**	**EW ε=0.05**	**EW ε=0.1**	**EW ε=0.2**	**Implied ε**
100	300	1,520	380	95	0.113
500	300	1,842	461	115	0.124
1,000	321	1,981	495	124	0.124
3,000	556	2,200	550	138	0.099
10,000	1016	2,441	610	153	0.078
30,000	1760	2,661	665	166	0.061

The rank model requires substantially fewer samples than the EW bound at tight tolerances ($\varepsilon \leq 0.05$), but the two converge at $\varepsilon \approx 0.1$ for large reach. At reach above 3,000, the rank model implicitly guarantees $\varepsilon < 0.1$.

A.8 Reproducibility

All analysis scripts, fitting data, and validation results are available at `https://github.com/benchmark-urbani`
Model parameters are stored in `output/sampling_model.json` and synced to `pysrc/cityseer/config.py` for library integration.